

Status, diversity and trends of the bird communities in Volcanoes National Park and surrounds, Rwanda

MIA A. DERHÉ, DEO TUYISINGIZE, WINNIE ECKARDT, FAIDA EMMANUEL
and TARA STOINSKI

Summary

The Volcanoes National Park (VNP) in Rwanda, part of the Virunga massif in the Albertine Rift region, boasts some of Rwanda's best remaining natural vegetation and is home to many endangered and endemic species. The park has suffered from high levels of degradation and destruction, reducing in size by 50% during the 1960s and 1970s, and remains under threat from illegal activities, human population pressure and climate change. This study is the first to investigate the status and trends of bird communities in the VNP, using a multi-year dataset. We use a five-year dataset, totalling over 3,200 point-counts, both within and around the VNP, to assess the conservation value of the VNP for birds in comparison with other national parks and non-protected areas. We assess bird communities and population trends within and around the parks and identify important habitat factors for birds within the VNP. We found that the VNP hosts a unique bird community compared to other localities, with several Albertine Rift endemics and threatened species occurring in the VNP. *Hagenia/Hypericum* woodland, herbaceous vegetation, brush ridge and mixed forest host the highest levels of bird diversity in the VNP, whilst the park's waterbodies provide key habitat for the endangered Albertine Rift endemic Grauer's Swamp-warbler (*Bradypterus graueri*). Elevation had a negative effect on bird diversity in the VNP, whilst the basal area of dead trees, *Hagenia* and vines had a positive effect. Both inside and outside the VNP, there was a significant decline in abundance and species richness over the sampling years; however, we advocate for further monitoring to confirm these trends. Based on our findings, we recommend effective, targeted management of key habitats for birds within the park, including those identified in this study, in order to mitigate bird declines and conserve the unique bird communities in the VNP.

Introduction

Conservation of birds has become a global environmental issue, particularly with increases in environmental degradation, habitat loss, invasive species and effects of climate change threatening extinction of many species (Robbins *et al.* 1989, Balmford *et al.* 2001, Crick 2004, Butchart *et al.* 2010). Birds are recognised as important and reliable indicators of terrestrial biodiversity, environmental conditions, and habitat quality (Bibby 1999, Canterbury *et al.* 2000), due to their well-documented ecology (being one of the best known faunal groups in the tropics, e.g. Stotz *et al.* 1996, Dunn 2004, Hill and Hamer 2004, BirdLife International 2005), and because they are one of the most vulnerable vertebrate taxa to forest disturbance (e.g. Aleixo 1999, Johns 1991, Mason 1996, Thiollay 1992, Wong 1985). In addition, birds (particularly habitat specialist birds) are also known to be suffering population declines around the globe (Butchart *et al.* 2010) as

a result of habitat loss and climate change. While generalist and invasive bird species may expand their ranges, specialist species are more likely to die off, if local climate changes unfavourably or if habitat quality declines, due to their highly specialised requirements (Huntley *et al.* 2006).

The Albertine Rift region, located in the eastern portion of the African continent, stretches from the northern end of Lake Albert to the southern end of Lake Tanganyika and covers Burundi, Democratic Republic of Congo (DRC), Rwanda, Tanzania and Uganda. As part of the Eastern Afromontane Hotspot (Brooks *et al.* 2004), the Albertine Rift is the most species-rich region for vertebrates on the African continent (Pickford 1990, Brooks *et al.* 2001, Plumptre *et al.* 2003) and an internationally recognized Endemic Bird Area according to BirdLife International (Stattersfield *et al.* 1998), as well as a WWF 'Global-200' priority ecoregion (Olson and Dinerstein 1998, Burgess *et al.* 2004).

The Volcanoes National Park (VNP) in Rwanda, part of the Albertine Rift region, boasts some of Rwanda's best remaining natural vegetation and is home to many endangered species, including the 'Critically Endangered' mountain gorilla *Gorilla beringei beringei*, several globally threatened bird species and species endemic to the Albertine Rift region. Rapid surveys in the VNP have shown that more than 100 bird species occur in the park, including the threatened Shelley's Crimsonwing *Cryptospiza shelleyi* (Owiunji *et al.* 2005). However, there have been no recent studies or any long-term research that enable us to determine the bird communities or the status of birds in the VNP. The VNP comprises typical Afromontane forest characterised by altitudinal gradients (ranging from 2,300 to 4,500 m). The high rainfall, cool temperatures, and altitudinal range in the park have resulted in a broad range of habitats and a rich biodiversity (Weber 1987, Owiunji *et al.* 2005). However, the park has suffered from high levels of degradation and destruction, with the total area of the VNP reduced by 50%, from 328 km² to 160 km², during the 1960s and 1970s, as a result of conversion of land for agriculture (Weber 1987). Today, the park remains under threat from illegal activities and population pressure, with the area surrounding the park having some of the highest population densities in Africa (ranging from 314 to 1,028 people per km²; Bush *et al.* 2010).

Given the recognised importance of the Volcanoes National Park for biodiversity, and its vulnerability to external pressures and environmental change, long-term monitoring of the park's biodiversity is crucial. Such information will allow us to determine the status of diversity in the park, and to detect any changes over time or in response to environmental factors. As such, this study aims to determine the biodiversity and conservation value of the VNP for birds, compared to areas outside of the park; identify the important vegetation types in the VNP for birds; assess the most important environmental and habitat factors for bird diversity in the VNP; and determine trends of birds in the VNP over the five-year study period (2013–2017).

Methods

Study area

The study was conducted in and around the Volcanoes National Park (VNP), Rwanda (between 1°21'–1°35'S, 29°22'–29°44'E), a mountainous region, located on the eastern edge of the Albertine Rift (Figure 1). Elevation ranges from 2,300 to 4,500 m above sea level (McNeilage 2001). Annual rainfall in the Virungas is c.2,000 mm (Plumptre 1991), with a distinct "long" dry season in June–August, a less distinct "short" dry season in December–February, a "long" heavy rainy season March–May, and a less heavy "short" rainy season September–November (Grueter *et al.* 2013). This study was carried out at 30 sites inside the VNP (covering both the eastern and western sectors of the park; Table S1 in the online Supplementary material) in all vegetation types, excluding the rocky alpine zones (c.8 to 13 km²), which were not surveyed due to logistical constraints. The vegetation types loosely followed those classified by Plumptre (1991) and Grueter *et al.* (2013): (1) bamboo *Yushania alpina* and mixed bamboo forest at c.2,500–2,800 m; (2) mixed forest and *Mimulopsis*: mixed species montane forest with understorey of dense *Mimulopsis* spp. at

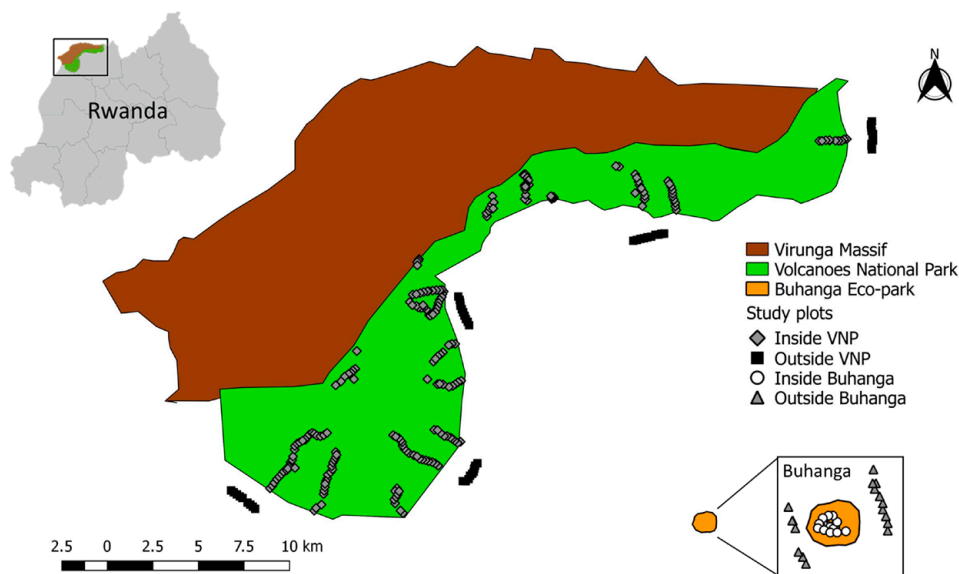


Figure 1. Map of the study area showing the location of the study plots at the four different localities (Inside VNP; Outside VNP; Inside Buhanga; Outside Buhanga).

c.2,500–2,700 m; (3) brush ridge comprised of *Hypericum* woodland on volcano slopes at c.3,000–3,300 m; (4) *Hagenia-Hypericum* woodland characterised by *Hypericum revolutum*, *Hypericum absi* and *Hagenia abyssinica* trees at c.2,800–3,300 m; (5) herbaceous vegetation (dense tall herbs with no tree cover) at c.2,800–3,300 m; (6) meadows at c.3,100–3,400 m; (7) a sub-alpine zone comprised of giant lobelia *Lobelia stuhlmannii* stands and thickets of *Rubus* spp. at c.3,300–3,600 m; and (8) waterbodies, comprising streams, ponds, swamps, bogs and marshes of varying sizes (c.100–23,000 m²) at varying elevations.

In addition to sampling inside the VNP, sampling was also conducted in three other localities in the study area: five sites outside the VNP (comprised of cropland at c.2,000–2,500 m), two sites inside Buhanga eco-park (comprised of *Dracaena* vegetation at c.1,600 m) and two sites outside Buhanga eco-park (comprised of cropland at c.1,600 m) (Figure 1; Table S1). Buhanga eco-park is a small (c.30 ha) patch of sacred forest comprised of open and closed vegetation, surrounded by cropland and high human population densities (Plumptre *et al.* 2001). Buhanga eco-park and the areas directly surrounding the VNP and Buhanga eco-park, were selected to be surveyed in this study in order to assess the conservation value of the VNP in comparison with other national parks and non-protected areas. Buhanga eco-park was selected as it is in close proximity to the VNP, so has a similar climate, but different elevation and vegetation.

Avifauna surveys

Avifauna surveys were carried out every year between June and September. Surveys inside and outside the VNP ran from 2013 to 2017; surveys inside and outside Buhanga eco-park ran from 2010 to 2017. Point count methods (Bibby 2000) were used to survey avifauna communities in each of the localities. At each site, transects at > 1000 m distance from each other were established, using existing forest trails, tracks and paths. Along each of these transects, fixed-radius point counts (Bibby 2000) of 25 m radius ('plots') were established at 200 m intervals (Sutherland 2006), except inside Buhanga, where the intervals were 100 m, due to limitations in the size of the park.

The location of the centre of each plot was recorded using a handheld GPS unit. A total of 377 plots were covered, including 297 plots inside the VNP, 40 plots outside the VNP, 20 plots inside Buhanga eco-park, and 20 plots outside Buhanga eco-park. Bird counts were carried out between 06h30 and 12h00 with observations lasting 10 minutes per point but allowing 5 minutes for settling. All birds observed or heard, including those in flight, were recorded and their distance from the centre of the plot was measured using a laser rangefinder. Each plot was surveyed twice per season, with at least one month between surveys.

Habitat variable measurements

Habitat assessments were carried out between June and September 2017 in each of the bird monitoring plots at each site, to obtain environmental and habitat data in order to investigate which factors affect the diversity of birds inside the VNP. At each plot, the dominant vegetation type was recorded and categorised into the following vegetation types, roughly following the classification of Plumptre (1991), Watts (1983), and Grueter *et al.* (2013): bamboo/mixed bamboo; brush ridge; *Hagenia* forest/*Hypericum* woodland; herbaceous; meadow; high/low/open/closed mixed forest; and subalpine (characterised by wet or dry meadows of sedges or grasses). The vegetation type of any plots located at wetlands was classified as 'waterbody'. Vegetation types in which sampling was conducted outside the VNP were either crops (outside VNP and outside Buhanga) or *Dracaena* (inside Buhanga).

Habitat measurements were taken in a 10 x 10 m sub-plot in the centre of each 50 m-diameter bird survey plot. The location of each sub-plot was recorded using a handheld GPS unit. Altitude was determined using a handheld GPS unit, and split into altitude bands (1,500–2,000 m; 2,001–2,500 m; 2,501–3,000 m; 3,001–3,500 m; 3,501–4,000 m; 4,001–4,500 m) for analysis. Air temperature and humidity were recorded using a thermo-hygrometer at the four corners of each sub-plot and the mean temperature and humidity data were calculated. Temperature and humidity measurements were taken in the morning, between 08h00 and 10h00. Canopy height (representative height of the taller trees composing the upper canopy layer) within each study sub-plot was measured using the tangent method with a clinometer and tape measure. To calculate the mean canopy height of each plot, two measurements were taken at each side of the plot. Canopy cover was measured from hemispherical photographs taken using a fisheye hemispherical lens and analysed with the software Gap Light Analyzer 2.0 (Frazer *et al.* 2000). The canopy was photographed from the understorey (camera oriented towards the sky), to produce a circular image of the canopy. The software then transforms the colours from hemispherical photos to black and white, in order to quantify the number of pixels of the photograph corresponding to canopy. Canopy cover was then calculated as the proportion of the total number of black pixels in the photograph. To determine the proportion of canopy cover of each sub-plot, four canopy photographs were taken at each corner of the sub-plot, and the mean value was calculated. Understorey shrub cover was measured by photographing the understorey shrub layer using a black sheet (1 x 1 m) arranged perpendicularly to the ground as background. A normal camera lens was used and the camera was positioned 3 m away from the background. A total of four understorey photographs were taken at each corner of the sub-plots (looking in to the centre of the plot). The photographs were then analysed with the software Sidelook 1.1 (Nobis and Hunziker 2005) and the mean value calculated. This software converts the photographs into polarised black and white pictures, providing the percentage of black (vegetation) and white (no vegetation) pixels and provides a measure of both percentage cover and indices of vegetation complexity.

Ground cover was visually estimated within two 50 cm x 50 cm sub-quadrats placed 10 m on either side of the centre point of the subplot and assessing the percentage of ground covered by: vegetation; leaf litter and fine woody debris (< 10 cm diameter); coarse woody debris (> 10 cm diameter); rock; bare soil; other. The dominant ground cover type was then determined as the ground cover type with the highest mean percentage cover over the two sub-quadrats. Leaf litter

depth was measured by inserting a 1-m stick into the litter at two opposite corners of the sub-plot and calculating the mean depth. Within the 10 x 10m subplot, the total basal area of live and dead trees was calculated by making counts of all free-standing woody-stemmed plants that were taller than 1 m above the soil, recorded by DBH (diameter at breast height) class (2.5–5 cm; 5–10 cm; 10–25 cm; 25–50 cm; 50–100 cm; >100 cm; following Kanowski *et al.* 2010). The total basal area was calculated as the sum of the basal area of all woody-stemmed plants recorded within the sub-plot (in m ha⁻²). Basal area for live trees and standing dead trees were calculated separately. In addition, we also calculated DBH of live *H. abyssinica* trees, saplings and seedlings in the subplot, as this tree species is known to be a key habitat for biodiversity, but is suspected to be declining in the VNP (Fischer and Killmann 2008, Seburanga *et al.* 2014). All vines that were >1 cm DBH were also recorded by DBH class, and the total basal area of vines was calculated for each plot.

Data analysis

All calculations were carried out using R version 3.4.2 (R Core Team 2017). Each site was visited twice each year and these visits were pooled into annual counts and these annual counts were used as the sampling unit. In order to account for any potential difference in detection probability between years, abundance estimates were calculated using distance sampling methodology, to give an estimate of the number of individual birds per plot per year. To estimate species richness in each habitat category and assess whether all bird species had been sampled, we generated sample-based observed species richness rarefaction curves, with 95% confidence intervals, using 'vegan' and 'rich' packages in R. We also calculated the mean of four commonly used abundance-based species richness estimators (CHAO, JACK1, JACK2 and Bootstrap), from 999 randomisations of observed species richness. Sampling efficiency was calculated as observed species richness/estimated species richness x 100. We measured species diversity using the Shannon-Wiener index, which takes into account the proportion of individuals recorded for each species, relative to the total number of individuals recorded, for each community. To test for effects of year, vegetation type, and habitat factors, we used generalised linear mixed effects models (glmm). The effect of year on abundance, species richness and Shannon diversity was looked at with site as a random effect. Year and site were included as random effect terms when looking at the effect of locality (Inside VNP; Outside VNP; Inside Buhanga; Outside Buhanga), and site was included as a random effect term when looking at the effect of year and vegetation type on abundance, species richness and Shannon diversity. Bird data from 2017 only (the same year as the habitat data was collected) was used when looking at the effect of habitat factors on bird diversity (abundance, species richness and Shannon diversity). Significant differences were followed up with Tukey contrasts (Multiple Comparisons of Means). Appropriate error structures were applied for all models. To assess the similarity of vegetation types in terms of their species composition, we used a non-metric multidimensional scaling (NMDS) ordination analysis using Bray-Curtis pairwise distances based on bird abundance data. To test for differences in Bray-Curtis similarity between localities and vegetation types, we used a permutational multivariate analysis of variance (ADONIS).

Collinearity between variables is an ever-present issue in regression-type analyses of ecological data (Dormann *et al.* 2013). Collinearity was explored between habitat variables using pairwise Pearson's correlations, scatterplots and Principal Components Analyses (PCA) (Zuur *et al.* 2010). If significant collinearity between two habitat variables (Pearson's $r^2 > 0.7$) was detected, a single variable was selected from the pair to represent both in models (Dormann *et al.* 2013).

To test the importance of different habitat variables on bird abundance, species richness and species diversity we used GLMMs or LMMs, with site as the random intercept. Model residuals and diagnostics were plotted and checked as per Zuur *et al.* (2009) and the importance of environmental variables in each of the three models was determined using backwards model selection based on likelihood ratio tests (χ^2) and confidence intervals (Bolker *et al.* 2009). Goodness of fit of

models was assessed split into marginal (variance explained by fixed effects) and conditional (variance explained by fixed + random effects) pseudo R^2 components (Nakagawa & Schielzeth 2013) in package 'MuMIn' (Bartoń 2016).

Results

Sampling efficiency

A total of 32,885 individuals from 199 bird species were recorded in this study, with 127 species occurring within the VNP, 100 species occurring outside the VNP, 129 species occurring in Buhanga eco-park and 108 species occurring outside Buhanga eco-park. Twenty-five species were recorded only within the VNP (Table S3), including the Endangered Albertine Rift endemics Shelley's Crimsonwing *Cryptospiza shelleyi* and Grauer's Swamp-warbler *Bradypterus graueri*. The Endangered Shelley's Crimsonwing was recorded only in brush ridge ($n = 11$) and mixed forest ($n = 1$) within the VNP, and the Endangered Grauer's Swamp-warbler was recorded only in waterbodies ($n = 96$) within the VNP (Table S2). The most abundant species was the Ruwenzori Double-collared Sunbird *Cinnyris stuhlmanni*, which was found in all localities except inside Buhanga, and in all vegetation types except Dracaena (inside Buhanga) ($n = 2,624$; Table S3). Species accumulation curves suggest that sampling effort was adequate to characterise the local bird community for all vegetation types, except for the herbaceous zone, meadow and brush ridge (Figure 2). The four common species richness estimators show that between 64% of species (in herbaceous zone) to 89% of species (in crops) were sampled (Table 1).

Effect of sampling year on bird diversity – trends in bird diversity

Both inside and outside the VNP, there was a significant decline in abundance (Inside VNP: $\chi^2 = 286.36$, $df = 1$, $P < 0.001$, Figure 3A; Outside VNP: $\chi^2 = 35.647$, $df = 1$, $P < 0.001$, Figure 3B) and species richness (Inside VNP: $\chi^2 = 10.733$, $df = 1$, $P = 0.001$, Figure 3E; Outside VNP: $\chi^2 = 452.19$, $df = 1$, $P < 0.001$, Figure 3F) over the sampling years, but only a small change in Shannon diversity (Inside VNP: $\chi^2 = 3.192$, $df = 1$, $P = 0.074$, Figure 3I; Outside VNP: $\chi^2 = 3.309$, $df = 1$, $P = 0.069$, Figure 3J). Inside the VNP, bird abundance declined from 5.70 ± 0.29 SE birds per visit in 2013 to 3.68 ± 0.19 SE birds per visit in 2017; and species richness declined from 3.71 ± 0.20 SE birds per visit in 2013 to 3.43 ± 0.19 SE species per visit in 2017. Within Buhanga eco-park, there was also a significant decline in abundance ($\chi^2 = 36.598$, $df = 1$, $P < 0.001$, Figure 3C), species richness ($\chi^2 = 38.215$, $df = 1$, $P < 0.001$, Figure 3G) and Shannon diversity ($\chi^2 = 23.520$, $df = 1$, $P < 0.001$, Figure 3K) over the sampling years. However, around Buhanga eco-park, there was an increase in abundance ($\chi^2 = 5.705$, $df = 1$, $P = 0.0169$, Figure 3D), but no change in species richness ($\chi^2 = 0.191$, $df = 1$, $P = 0.662$, Figure 3H) or Shannon diversity ($\chi^2 = 0.218$, $df = 1$, $P = 0.641$, Figure 3L) across sampling years.

Importance of Volcanoes National Park for bird diversity

Locality (Inside VNP; Outside VNP; Inside Buhanga; Outside Buhanga) had a significant effect on abundance ($\chi^2 = 11.277$, $df = 3$, $P = 0.010$; Figure 4A), species richness ($\chi^2 = 22.828$, $df = 3$, $P < 0.001$; Figure 4B) and Shannon diversity ($\chi^2 = 16.670$, $df = 3$, $P < 0.001$; Figure 4C), with inside and outside Buhanga eco-park having higher abundance, species richness and Shannon diversity than inside the VNP. Species composition (Bray Curtis pairwise distances) differed significantly among localities (ADONIS: $r^2 = 0.397$, $df = 3$, $P < 0.001$; Figure 5A). The nMDS ordination represented 77.21% of the assemblage dissimilarity and showed that the sites within the VNP formed a closely grouped cluster and were distinct from those outside the VNP, inside Buhanga eco-park and outside Buhanga eco-park (Figure 5A). The pairwise permutational multivariate analysis of variance showed that the bird communities inside the VNP were significantly

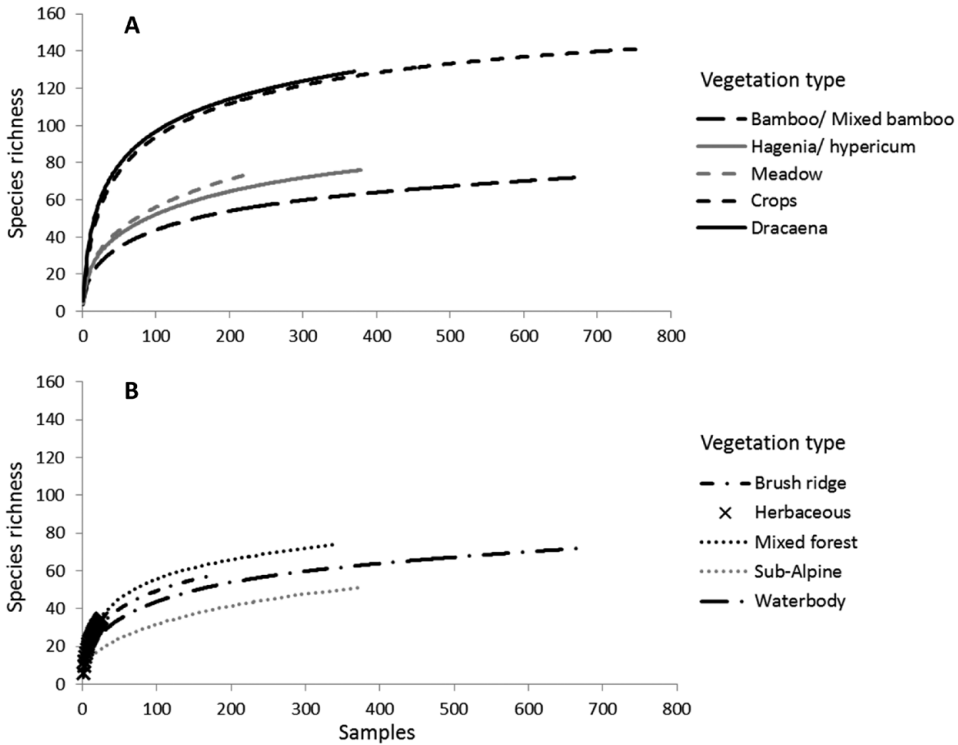


Figure 2. Species accumulation curves constructed using sample-based rarefaction curves for the different vegetation types: bamboo/ mixed bamboo, *Hagenia/Hypericum*, meadow, crops, and *Dracaena* (A); and brush ridge, herbaceous, mixed forest, sub-alpine, and waterbody (B).

different from those outside the VNP, and both inside and outside Buhanga (Table 2), whereas the bird communities outside the VNP, inside Buhanga and outside Buhanga were not significantly different from one another (Table 2).

Importance of the different vegetation types in the VNP for bird diversity

Bird abundance ($\chi^2 = 60.044$, $df = 7$, $P < 0.001$; Figure 6A), species richness ($\chi^2 = 135.40$, $df = 7$, $P < 0.001$; Figure 6B) and Shannon diversity ($\chi^2 = 146.72$, $df = 7$, $P < 0.001$; Figure 6C) all varied significantly by broad vegetation type within the VNP, with the lowest abundance in bamboo/ mixed bamboo (2.53 ± 0.24 SE birds per visit) and the subalpine zone (2.18 ± 0.36 SE birds per visit). Species richness and Shannon diversity were both highest in the *Hagenia/Hypericum* zone (species richness: 4.42 ± 0.25 SE species per visit; Shannon diversity: 1.31 ± 0.06 SE per visit), followed by mixed forest (species richness: 4.26 ± 0.25 SE species per visit; Shannon diversity: 1.27 ± 0.06 SE per visit) and the herbaceous zone (species richness: 4.06 ± 0.44 SE species per visit; Shannon diversity: 1.21 ± 0.12 SE per visit), whilst the lowest species richness and diversity occurred in the subalpine zone (species richness: 2.49 ± 0.16 SE species per visit; Shannon diversity: 0.76 ± 0.06 SE species per visit). Species composition (Bray Curtis pairwise distances) differed significantly among vegetation types (ADONIS: $r^2 = 0.613$, $df = 7$, $P < 0.001$; Figure 5B). The nMDS ordination represented 77.17% of the assemblage dissimilarity and showed that each vegetation type formed a relatively closely grouped cluster, representing distinct bird communities within each vegetation type (Figure 5B).

Table 1. Summary of distance sampling abundance estimate (DAbun), total recorded abundance (RAbun), observed (Sobs) and estimated (Sest) species richness (\pm SE), and proportion of species detected (Sobs / Sest) in each vegetation type.

Vegetation type	DAbun	RAbun	Sobs	Sest	Sobs/Sest
Inside VNP					
Bamboo/ mixed bamboo	2621	3585	72	94.6 \pm 10.8	0.76
Brush ridge	1089	1806	58	71.8 \pm 5.4	0.81
Hagenia/Hypericum	2246	3439	76	89.9 \pm 4.7	0.85
Herbaceous	174	332	35	54.8 \pm 10.1	0.64
Meadow	932	1476	73	99.6 \pm 8.4	0.73
Mixed forest	1912	2902	74	88.4 \pm 5.2	0.84
Sub-Alpine	1257	1927	51	65.5 \pm 5.6	0.78
Waterbody	1158	1954	80	93.2 \pm 4.6	0.86
Outside VNP/ Outside Buhanga					
Crops	4348	9894	141	158.1 \pm 4.9	0.89
Buhanga eco-park					
Dracaena	2969	5570	129	163.2 \pm 11.7	0.79
Total	18706	32885	199		

Importance of habitat variables on bird diversity in the VNP

Significant collinearity was detected between temperature and humidity (Pearson's $r^2 = 0.83$), and basal area of dead trees and basal area of *Hagenia* (Pearson's $r^2 = 0.86$), so temperature and basal area of dead trees were selected to represent these variables in the models. The importance of 11 uncorrelated habitat variables was determined for bird abundance, species richness and Shannon diversity (Table 3). All three bird diversity indices (abundance, species richness and Shannon diversity) had significant negative relationships with altitude and leaf litter depth, whilst basal area of dead trees/*Hagenia* had a positive effect on abundance, and basal area of vines had a positive effect on

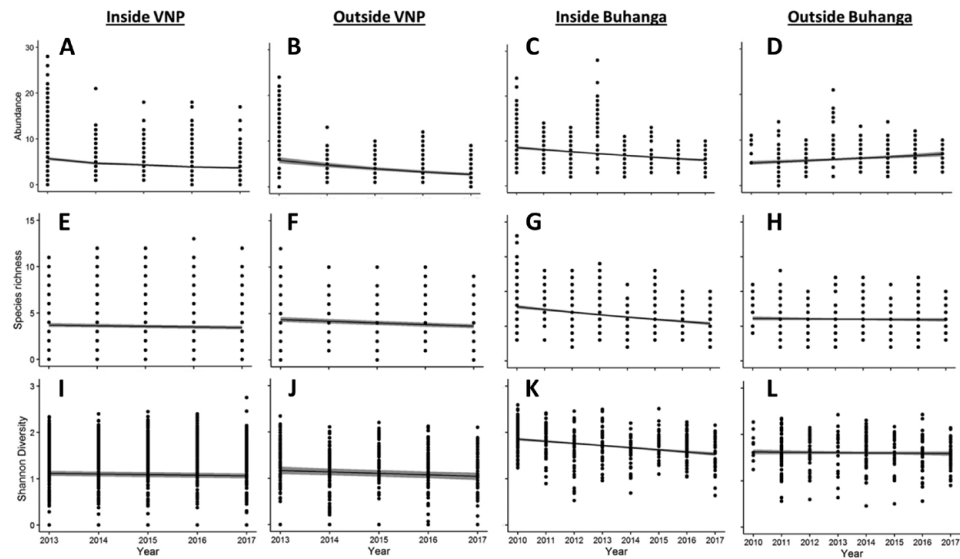


Figure 3. Effect of sampling year on abundance (distance sampling estimate; A, B, C, D), species richness (E, F, G, H) and Shannon diversity (I, J, K, L), inside VNP, outside VNP, inside Buhanga eco-park and outside Buhanga eco-park, showing model-predicted mean (black line) \pm SE (grey shade).

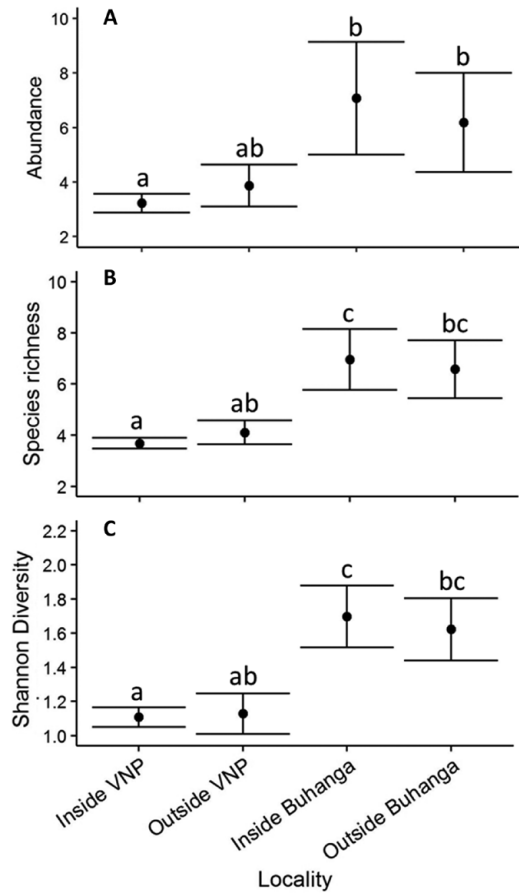


Figure 4. Mean \pm SE bird abundance (distance sampling estimate; A), species richness (B) and Shannon diversity (C) for the different localities (inside VNP, outside VNP, inside Buhanga eco-park, outside Buhanga eco-park). Unlike letters indicate significant differences ($P < 0.05$) determined through post-hoc Tukey contrasts (Multiple Comparisons of Means).

species richness and Shannon diversity. Temperature had a significant positive effect on abundance. By contrast, dominant ground cover, canopy height and cover, understorey cover and basal area of trees were not important in any model and did not have any effect in the diversity indices.

Discussion

This is the first study, to our knowledge, to investigate the status and trends of bird communities in the VNP, using a multi-year dataset. We found that the VNP hosts a unique bird community compared to other localities, with several Albertine Rift endemics and threatened species occurring in the VNP. We identified the most diverse vegetation types within the VNP as *Hagenia/Hypericum* woodland, herbaceous vegetation, mixed forest and brush ridge, whilst the VNP's waterbodies provide key habitat for the 'Endangered' Albertine Rift endemic Grauer's Swamp-warbler. We determined that bird diversity was negatively affected by leaf litter depth and elevation, whilst the basal area of dead standing trees, *Hagenia* and vines had a positive effect on bird diversity in the VNP. Moreover, our data suggest that there has been a decline in bird

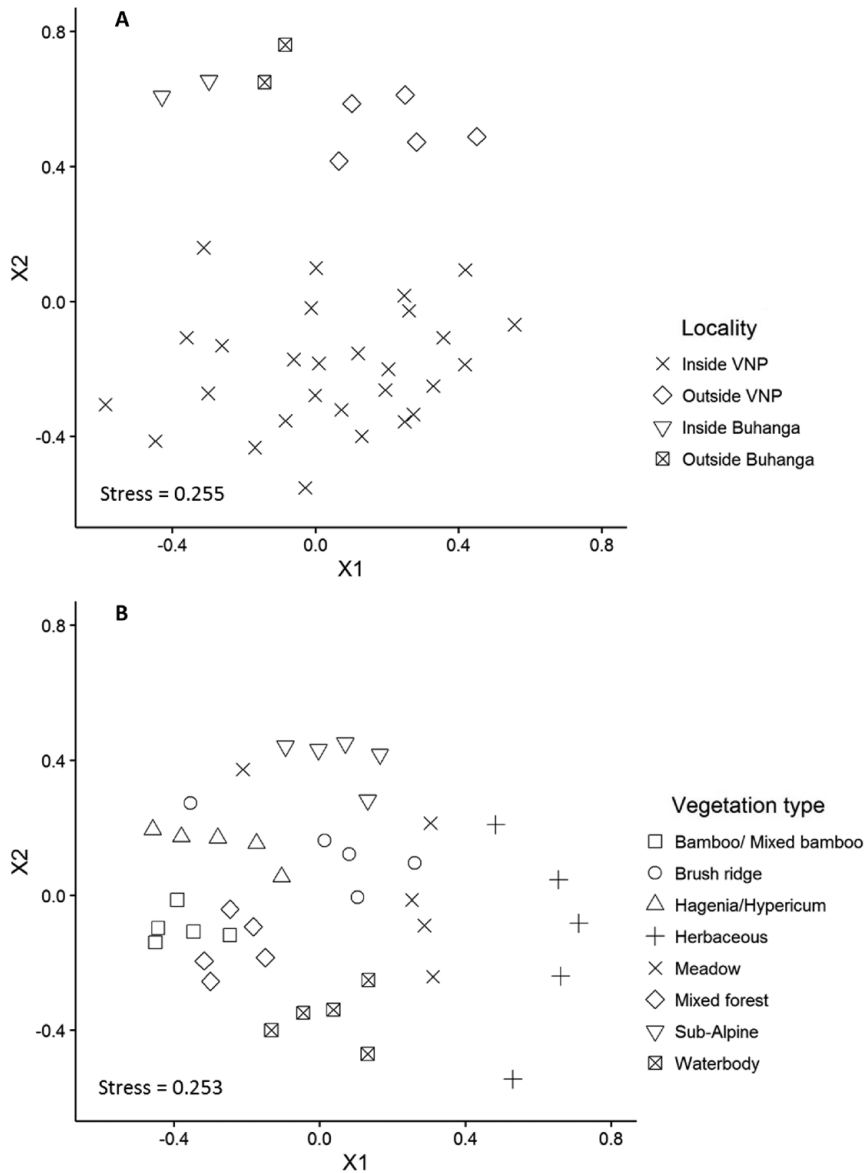


Figure 5. Non-metric multidimensional scaling (MDS) ordination of bird community assemblages between the different localities (A) at the site scale ($r^2 = 0.77$), and between the different vegetation types (B) at the year scale ($r^2 = 0.77$), based on abundance data.

diversity over the study period (2013–2017) in the VNP as well as in surrounding localities; however, we recommend further monitoring to confirm these suspected trends.

Importance of the VNP for bird conservation

Our study recorded a total of 17,421 individuals from 127 bird species within the VNP, including 17 Albertine Rift endemics and four threatened species. These findings expand on

Table 2. Summary of pairwise comparisons from permutational multivariate analysis of variance using distance matrices, showing the similarity of bird communities in the different localities, based on their Bray-Curtis similarity values.

Locality pairwise comparisons	F-statistic	R ²	P
Inside VNP vs Outside VNP	10.360	0.239	0.006*
Inside VNP vs Inside Buhanga	7.308	0.196	0.018*
Inside VNP vs Outside Buhanga	6.702	0.183	0.024*
Outside VNP vs Inside Buhanga	6.893	0.580	0.318
Outside VNP vs Outside Buhanga	3.700	0.425	0.246
Inside Buhanga vs Outside Buhanga	2.458	0.551	1

*Differences significant at the 0.05 level

previous work in the area and provide a more detailed species list and description of the different bird communities occurring in the VNP and surrounding areas. In addition to the 119 bird species, including 13 Albertine Rift endemic species recorded by Owuini *et al.* (2005) over 23 days in 2004, we also recorded: Handsome Francoline *Pternistis nobilis*, Ruwenzori/Montane Nightjar *Caprimulgus poliocephalus*, Dusky Crimsonwing *Cryptospiza jacksoni* and Grauer's Swamp-warbler. Furthermore, Owuini *et al.*, (2005) did not detect the 'Endangered' Grauer's Swamp-warbler, the 'Critically Endangered' Hooded Vulture *Necrosyrtes monachus*, the 'Vulnerable' Martial Eagle *Polemaetus bellicosus*, and the 'Endangered' Shelley's Crimsonwing from any point counts in the VNP, whereas the presence of the latter species was recorded through opportunistic observations. These findings highlight the value of rapid biological assessments in providing baseline data on bird occurrences, but also demonstrate the importance of thorough and repeated surveys to ensure that as many species as possible are detected, particularly rare and cryptic species.

Although we recorded higher abundance, species richness and diversity in Buhanga eco-park than both inside and outside the VNP, the species that made up the bird communities inside Buhanga were not found to be unique, as they were shared with sites outside the VNP and outside Buhanga. The bird communities inside the VNP, on the other hand, were distinct – they were significantly different from those recorded at other localities in the study (outside the VNP, inside Buhanga and outside Buhanga). In fact, there were significantly more Albertine Rift endemics (both in terms of abundance and species richness) recorded in the VNP than in any other locality in this study, which further highlights the importance of the VNP in the conservation of unique species assemblages and for Albertine Rift endemics.

Importance of different vegetation types for birds in the VNP

This study showed that each vegetation type in the VNP formed a relatively closely grouped cluster on an nMDS ordination, representing distinct bird assemblages. This demonstrates the importance of each of the park's vegetation types for the conservation of different bird communities. Our detailed analyses of these vegetation types revealed that in particular, high bird abundance, species richness and diversity were found in the low-mid elevation *Hagenia/Hypericum*, herbaceous, brush ridge and mixed forest zones. Despite the herbaceous zone being the least surveyed vegetation type in this study, and not approaching an asymptote for sufficient sampling estimation, it was one of the most abundant and species-rich vegetation types in this study (from the model outputs), hosting a variety of threatened and Albertine Rift endemic species, including the highest numbers of Ruwenzori Double-collared Sunbird *Cinnyris stuhlmanni* than any other vegetation type. We therefore recommend increased sampling of this vegetation type in order to accurately describe the avifauna community and to ensure that all species within this habitat are recorded. Furthermore, effective management of this habitat zone is crucial in ensuring the conservation of bird diversity in the park.

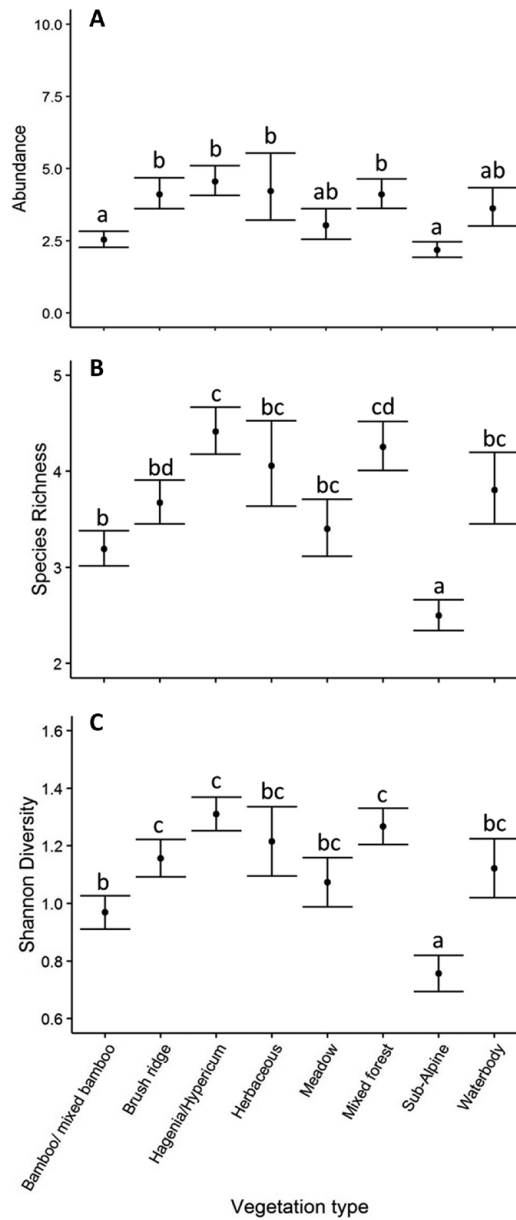


Figure 6. Mean \pm SE bird abundance (distance sampling estimate; A), species richness (B) and Shannon diversity (C) for the different vegetation types within the VNP. Unlike letters indicate significant differences ($P < 0.05$) determined through post-hoc Tukey contrasts (Multiple Comparisons of Means).

The *Hagenia/Hypericum* zone is not only particularly important habitat for birds, but also for mountain gorillas (Sarmiento *et al.* 1996, Watts 1998) and other elements of biodiversity in the VNP (Seburanga *et al.* 2014, Milner and Harris 1999; Sarmiento *et al.* 1996). However, it is suspected that the *Hagenia/Hypericum* zone may be decreasing, since *Hagenia abyssinica* may not be regenerating properly in the VNP (Kayitete *et al.* 2019). It is thought that *Hagenia* requires fire to initiate

Table 3. Importance of measured habitat variables on bird abundance (distance sampling estimate), species richness and Shannon diversity in the VNP. Degrees of freedom, strength of effect (χ^2), effect direction and P-values are reported for habitat variables that had a significant effect on the three diversity indices at the < 0.05 level. NS indicates that the habitat variable was not significant at the 0.05 level and was not included in the model. Positive and negative effect directions are denoted by \uparrow and \downarrow respectively.

Habitat variable	df	Abundance			Species richness			Shannon diversity		
		Strength (χ^2)	Effect	P	Strength (χ^2)	Effect	P	Strength (F)	Effect	P
Altitudinal band	4	37.57	\downarrow	<0.001	22.21	\downarrow	<0.001	7.29	\downarrow	<0.001
Temperature (/humidity)	7	5.64	\uparrow	0.02	NS	-	NS	NS	-	NS
Dominant ground cover	-	NS	-	NS	NS	-	NS	NS	-	NS
Litter depth	1	6.99	\downarrow	0.008	8.24	\downarrow	0.004	12.33	\downarrow	<0.001
Canopy height	-	NS	-	NS	NS	-	NS	NS	-	NS
Canopy cover	-	NS	-	NS	NS	-	NS	NS	-	NS
Understory cover	-	NS	-	NS	NS	-	NS	NS	-	NS
Basal area of trees	-	NS	-	NS	NS	-	NS	NS	-	NS
Basal area of dead trees (/Hagenia)	1	5.35	\uparrow	0.02	NS	-	NS	NS	-	NS
Basal area of vines	-	NS	-	NS	4.73	\uparrow	0.029	8.74	\uparrow	0.003

germination (Lange *et al.* 1997) – a process which is limited in recent years in the VNP due to its protected area status. First reported in Virungas in the 1980s (Troupin 1982) and supported more recently in the VNP (Fischer and Killmann 2008, Kayitete *et al.* 2019), research has shown that *H. abyssinica* is mainly represented by large and old trees, with many more adults than saplings or seedlings in the VNP. Furthermore, the past decline in the VNP's area has caused the park's large herbivore population, including mountain gorillas, to be concentrated into a smaller area. This, combined with an increasing mountain gorilla population (Gray *et al.* 2013), has led to increased herbivory pressure within the bamboo and *Hagenia/Hypericum* zones (Murererehe 2000, Nsanzurwimo 2004, Plumptre 1993, Grueter *et al.* 2013). Such damage through trampling from large herbivore predation has been shown to decrease or stop *H. abyssinica* germination completely (Lange *et al.* 1997).

Waterbodies were found to be key habitat for Grauer's Swamp-warbler, an Albertine Rift endemic which was found only within waterbodies in this study. This species is threatened with extinction due to it occurring in very small and severely fragmented habitat patches, many of which are being converted to cultivation or pasture across its limited range. As such, the waterbodies within the park are crucial for this species' continued survival. However, during recent years there have been indications of wetland declines in the VNP, demonstrated by a decrease in the soil water level and colonization of wetlands by surrounding non-wetland vegetation (Runyambo 2006, 2009). Human activities, particularly agriculture, are a major cause of wetland declines, with drainage and water extraction being the main cause of wetland loss in agricultural regions (Zedler and Kercher 2005, Böhme *et al.* 2016). The wetlands in the VNP are suspected to suffer from a high density of agricultural activities surrounding the park, including intensified establishment of eucalyptus plantings around the park in recent years, which are known to remove large amounts of water from streams and groundwater reservoirs (Dye and Versfeld 2007, Kluthe 2016). In addition to this, illegal water extraction within the park is likely to be imperilling water quality and quantity of the wetlands (Lane *et al.* 2004). Furthermore, climate change is also expected to have a pronounced effect on wetlands, negatively impacting habitat structure and availability, local climate, water quality and water provision (Ramsar 2002). In the East Africa region, climate change is predicted to increase temperatures and lead to more variability in rainfall (Hulme *et al.* 2001, IPCC 2007). These impacts are all likely to have serious knock-on consequences for the bird communities that depend on the VNP's wetlands, including Grauer's Swamp-warbler.

Importance of habitat characteristics on birds in the VNP

We found a significant positive effect of temperature/humidity only on bird abundance, and no effect of dominant ground cover, canopy height and cover, understorey cover or basal area of trees on bird diversity. This is likely more an artefact of the analytical approach used rather than a true lack of relationship, since different guilds of birds (i.e. different functional groups, those from different feeding/foraging guilds, those with different habitat specialisms) have different habitat requirements, thus confounding any effects when looking at bird abundance and richness as a whole. Furthermore, climatic data were collected over a very limited time period, so we recommend collecting hourly climatic data over a longer time period (≥ 3 months). However, overall, we found that the basal area of dead trees and/or *Hagenia* had a positive effect on bird abundance. Dead standing trees are known to provide important nesting sites for cavity nesting birds (Gibbs *et al.* 1993, Samuelsson *et al.* 1994), which are often limited by the availability of suitable nest sites (Newton 1994, 1998). Thus, sites in the VNP with a higher basal area of dead trees are likely to support higher numbers of cavity nesting birds. Furthermore, dead wood provides foraging opportunities for insectivorous birds, as many invertebrate species inhabit dead trees (Samuelsson *et al.* 1994, Jonsell *et al.* 1998). *Hagenia abyssinica* is known to grow to an enormous girth, reaching heights of up to 25 m (Lange 1997), and is a unique ecosystem in itself. Producing very thick boughs and branches that are often almost horizontal, with rough, flaking bark, it is favoured by an abundance of epiphytes (Niemelä *et al.* 1998) and may provide habitat for invertebrates, a food source for insectivorous birds. Although the seeds of *H. abyssinica* are wind dispersed (and thus do not provide a large food resource for granivorous birds), this species produces large clusters of flowers which may be exploited by nectarivorous birds.

We found that basal area of vines had a positive effect on species richness and diversity of birds in the VNP. Large vines are typically associated with healthy, primary forest (Peres 1999, Schnitzer and Bongers 2002) and are known to provide many direct and indirect benefits to birds, including food, nesting sites, and protection from predators (Putz *et al.* 2001, Michel *et al.* 2015). Many generalists and understorey frugivores depend on the fruits produced by these understorey shrubs and vines, while insectivores rely on vine tangles that trap leaf-litter to provide them with a foraging substrate. In addition, we found that leaf litter depth had a negative effect on the three bird diversity indices, which appears contradictory to conventional thought, since many understorey insectivores are known to forage in the leaf litter for invertebrates (Canaday 1996). However, this result may be caused by the large volume of leaf litter recorded in the sub-alpine zone, which had the lowest bird diversity.

Finally, we found higher bird diversity at lower elevations in the VNP, a finding that is supported by numerous studies from around the globe (McCain 2009, Sanders and Rahbek 2012). Nevertheless, it should be noted that the lower elevations in the VNP ($\geq 2,400\text{m}$) represent mid-high elevations for Rwanda. Decreasing diversity with increasing elevation is seen across the world in a variety of taxa (Kluge *et al.* 2006, Rahbek 1995, McCain 2009), and there are a number of possible causes for this, including cooler climate and decreased productivity at higher elevations (Kluge *et al.* 2006, Rahbek 1995, McCain 2007, Rowe 2009, Wang *et al.* 2009), biological processes (including mass effects, habitat heterogeneity; Rozenweig 1995, Kattan and Franco 2004), isolation and evolutionary history (Machac *et al.* 2011), and spatial factors (Rahbek 1997), although it is likely that no single mechanism is responsible for elevational diversity gradients.

High elevation environments, like the VNP, are predicted to be among the most sensitive to future climate change (Öztürk *et al.* 2015). Predictions have been made about how the climate may change in the Albertine Rift region in the coming century. Temperature increases of up to 3.9°C by 2090 are projected to occur, which would translate to a very large upward displacement of species' ranges and vegetation zones, on the order of 600–720 m relative to 1990 levels (Picton Phillips and Seimon 2010). Upland species, such as the birds of the VNP, may be very vulnerable to extinction induced by climate change (Şekercioğlu *et al.* 2008, Harris *et al.* 2014), since warming temperatures may force these species to shift upslope, reducing their geographic ranges almost entirely, decreasing their population, and driving them to extinction (Shoo *et al.* 2005, Harris *et al.* 2014). In this study, 74.6% of all Scarlet-tufted Malachite Sunbirds *Nectarinia johnstoni* were recorded in the subalpine zone,

suggesting that this species is altitudinally restricted to higher elevations and may thus be particularly vulnerable to climate change. Furthermore, range-restricted and endemic species are also projected to be vulnerable to climate change (Malcolm *et al.* 2006, IPCC 2007, Williams *et al.* 2007, Ohlemüller *et al.* 2008, Şekercioğlu *et al.* 2008, Harris *et al.* 2014). As such, any ongoing threats faced by the birds of the VNP are likely to be further exacerbated by climate change.

Trends in bird populations in the VNP

This study detected a decline in both the number of individuals and species of birds over the survey years in the VNP, as well as in other localities surveyed in this study (outside the VNP and inside Buhanga eco-park). Declines in bird abundance and species richness in the VNP could be caused by a multitude of interacting factors, including fragmentation and edge effects, high human population density outside the VNP (Bush *et al.* 2010), a decline in certain key habitats within the VNP (e.g. *Hagenia/Hypericum* forest, wetlands), disturbance by (legal and illegal) park visitors, increasing population densities of large herbivore populations in the park (Plumptre 1995, Robbins *et al.* 2011), and potential effects of climate change (Picton Phillipps and Seimon 2010). Although it is a protected area, the VNP (as well as Buhanga eco-park) is a relatively small, isolated forest patch, and is therefore sensitive to fragmentation and edge effects, as well as pressure from human and natural disturbances, which are known to affect species immigration and extinction rates (Lomolino 2000).

These findings should be interpreted with caution, however, as this study was conducted over a relatively short time period. In order to confirm any possible changes in bird populations in the VNP, we recommend continued annual monitoring in the study sites, ensuring consistent survey effort between years. We recommend research into the functional diversity of birds in the VNP, including investigating the status and trends of different feeding/ foraging guilds and habitat specialisms. Since birds are known to be bio-indicators, we also suggest further studies to determine whether the patterns and trends reported here are indicative of those occurring in other taxonomic groups. In the interim period as long-term trend data is collected, we recommend effective and targeted management of key habitats and vegetation types for birds within the park, including those identified in this study, in order to mitigate any potential ongoing and future bird declines and conserve the unique bird communities in the VNP.

Supplementary Material

To view supplementary material for this article, please visit <https://doi.org/10.1017/S0959270919000121>

Acknowledgements

Funding for this research was provided by the Dian Fossey Gorilla Fund International, with all equipment, resources and field staff provided by the Karisoke Research Centre. Permission to conduct this research was given by the Rwanda Development Board. Many thanks to F. Emmanuel, V. Musemakweli, J. D. Nsengiyumva, I. Kwizera and P. Mutuyimana for data collection and fieldwork, and to M. Miller for analytical assistance and advice.

References

- Aleixo, A. (1999) Effects of selective logging on a bird community in the Brazilian Atlantic forest. *Condor* 101 537–548.
- Balmford, A., More, J. L., Brook, T. S., Burgess, N., Hansen, L. A., Williams, P. and Rahbek, C. (2001) Conservation conflicts across Africa. *Science*. 291: 2616–2619.
- Bartoń, K. (2016) *MuMIn: Multi-model inference*. R Package 1.15.6.
- Bibby, C. J. (1999) Making the most of birds as environmental indicators. *Ostrich* 70: 81–88.
- Bibby, C. J. (2000) *Bird census techniques*. San Diego, USA: Academic Press.

- BirdLife International (2005) *Species factsheets. Birdlife international, Cambridge*. Available from <http://www.birdlife.org> (accessed October 2005).
- Böhme, B., Becker, M., Diekkrüger, B. and Förch, G. (2016) How is water availability related to the land use and morphology of an inland valley wetland in Kenya? *Physics and Chemistry of the Earth, Parts A/B/C*. 93: 84–95.
- Bolker, B. M., Brooks, M. E., Clark, C. J., Geange, S. W., Poulsen, J. R., Stevens, M. H. H. and White, J. S. S. (2009) Generalized linear mixed models: a practical guide for ecology and evolution. *Trends Ecol. Evol.* 24: 127–135.
- Brooks, T., Balmford, A., Burgess, N., Ejelsa, J., Hansen, L. A., Moore, J., Rahbek, C. and Williams, P. (2001) Towards a blueprint for conservation in Africa. *BioScience* 51: 613–624.
- Brooks, T., Hoffmann, M., Burgess, N., Plumptre, A., Williams, S., Gereau, R. E., Mittermeier, R. A. and Stuart, S. (2004) Eastern Afromontane. Pp. 241–242 in R. A. Mittermeier, P. Robles-Gil, M. Hoffmann, J. D. Pilgrim, T. M. Brooks, C. G. Mittermeier, J. L. Lamoreux and G. Fonseca, eds. *Hotspots revisited: Earth's biologically richest and most endangered ecoregions*. Second edition. Mexico: Cemex.
- Burgess, N., D'Amico Hales, J., Underwood, E., Dinerstein, E., Olson, D., Itoua, I., Schipper, J., Ricketts, T., Newman, K. (2004) *Terrestrial ecoregions of Africa and Madagascar: a continental assessment*. Washington DC: Island Press.
- Bush, G. K., Ikirezi, M., Daconto, G., Gray, M. and Fawcett, K., (2010) Assessing impacts from community conservation interventions around Parc National des Volcans, Rwanda. Study funded by the Rwanda Environment Management Authority (REMA).
- Butchart, S. H., Walpole, M., Collen, B., Van Strien, A., Scharlemann, J. P., Almond, R. E., Baillie, J. E., Bomhard, B., Brown, C., Bruno, J. and Carpenter, K. E. (2010) Global biodiversity: indicators of recent declines. *Science*: 1187512.
- Canaday, C. (1996) Loss of insectivorous birds along a gradient of human impact in Amazonia. *Biol. Conserv.* 77: 63–77.
- Canterbury, G. E., Martin, T. E., Petit, D. R., Petit, L. J. and Bradford, D. F. (2000) Bird communities and habitat as ecological indicators of forest condition in regional monitoring. *Conserv. Biol.* 14: 544–558.
- Crick, H. Q. (2004) The impact of climate change on birds. *Ibis* 146: 48–56.
- Dormann, C. F., Elith, J., Bacher, S., Buchmann, C., Carl, G., Carré, G., Marquéz, J. R. G., Gruber, B., Lafourcade, B., Leitão, P. J., Münkemüller, T., Mclean, C., Osborne, P. E., Reineking, B., Schröder, B., Skidmore, A. K., Zurell, D. and Lautenbach, S. (2013) Collinearity: A review of methods to deal with it and a simulation study evaluating their performance. *Ecography* 36: 27–46.
- Dunn, R. R. (2004) Recovery of faunal communities during tropical forest regeneration. *Conserv. Biol.* 18: 302–309.
- Dye, P. and Versfeld, D. (2007) Managing the hydrological impacts of South African plantation forests: An overview. *Forest Ecol. Manage.* 251: 121–128.
- Fischer, E. and Killmann, D. (2008) *Plants of Nyungwe National Park, Rwanda*. Koblenz, Germany: Koblenz Geographical Colloquia.
- Frazer, G. W., Canham, C. D. and Lertzman, K. P. (2000) *Gap light analyzer, version 2.0: Imaging software to extract canopy structure and gap light transmission indices from true-colour fisheye photographs; users' manual and program documentation*. Burnaby, British Columbia: Simon Fraser University.
- Gibbs, J. P., Hunter Jr, M. L. and Melvin, S. M. (1993) Snag availability and communities of cavity nesting birds in tropical versus temperate forests. *Biotropica*: 25: 236–241.
- Gray, M., Roy, J., Vigilant, L., Fawcett, K., Basabose, A., Cranfield, M., Uwingeli, P., Mburanumwe, I., Kagoda, E. and Robbins, M. M. (2013) Genetic census reveals increased but uneven growth of a critically endangered mountain gorilla population. *Biol. Conserv.* 158: 230–238.
- Grueter, C., Ndamiyabo, F., Plumptre, A. J., Abavandimwe, D., Mundry, R., Fawcett, K. A., Robbins, M. M. (2013) Long-term temporal and spatial dynamics of food Availability for endangered Mountain Gorillas in Volcanoes National Park, Rwanda. *Am. J. Primatol.* 75: 267–280.

- Harris, J. B. C., Dwi Putra, D., Gregory, S. D., Brook, B. W., Prawiradilaga, D. M., Sodhi, N. S., Wei, D. and Fordham, D. A. (2014) Rapid deforestation threatens mid-elevational endemic birds but climate change is most important at higher elevations. *Divers. Distrib.* 20: 773–785.
- Hill, J. K. and Hamer, K. C. (2004) Determining impacts of habitat modification on diversity of tropical forest fauna: the importance of spatial scale. *J. Appl. Ecol.* 41: 744–754.
- Hulme, M., Doherty, R., Ngara, T., New, M. and Lister, D. (2001) African climate change: 1900–2100. *Climate Res.* 17: 145–168.
- Huntley, B., Collingham, Y. C., Green, R. E., Hilton, G. M., Rahbek, C. and Willis, S. G. (2006) Potential impacts of climatic change upon geographical distributions of birds. *Ibis* 148: 8–28.
- IPCC (2007) *Climate change 2007: Synthesis report*. Cambridge, UK: Cambridge University Press.
- Johns, A. D. (1991) Responses of Amazonian rain-forest birds to habitat modification. *J. Trop. Ecol.* 7: 417–437.
- Jonsell, M., Weslien, J. and Ehnström, B. (1998) Substrate requirements of red-listed saproxylic invertebrates in Sweden. *Biodivers. Conserv.* 7: 749–764.
- Kanowski, J., Catterall, C. P., Freebody, K., Freeman, A. N. D. and Harrison, D. A. (2010) *Monitoring revegetation projects in rainforest landscapes. Toolkit version 3*. Cairns: Reef and Rainforest Research Centre Limited.
- Kattan, G. H. and Franco, P. (2004) Bird diversity along elevational gradients in the Andes of Colombia: area and mass effects. *Global Ecol. Biogeogr.* 13: 451–458.
- Kayitete, L., van der Hoek, Y., Nyirambangutse, B. and Derhé, M. A. (2019) Observations on regeneration of the keystone plant species *Hagenia abyssinica* in Volcanoes National Park, Rwanda. *Afr. J. Ecol.*
- Kluge, J., Kessler, M. and Dunn, R. R. (2006) What drives elevational patterns of diversity? A test of geometric constraints, climate, and species pool effects for pteridophytes on an elevational gradient in Costa Rica. *Global Ecol. Biogeogr.* 15: 358–371
- Kluthe, B. G. (2016) *Eucalyptus in Kenya; Impacts on environment and society*. Doctoral dissertation, University of Arkansas.
- Lane, P. N., Morris, J., Ningnan, Z., Guangyi, Z., Guoyi, Z. and Daping, X. (2004) Water balance of tropical eucalypt plantations in south-eastern China. *Agricult. For. Meteorol.* 124: 253–267.
- Lange, S., Bussmann, R. W. and Beck, E. (1997) Stand structure and regeneration of the subalpine *Hagenia abyssinica* forests of Mt. Kenya. *Bot. Acta* 110: 473–480.
- Lomolino, M. V. (2000) A call for a new paradigm of island biogeography. *Global Ecol. Biogeogr.* 9: 1–6.
- Machac, A. et al. (2011) Elevational gradients in phylogenetic structure of ant communities reveal the interplay of biotic and abiotic constraints on diversity. *Ecography* 34: 364–371.
- Malcolm, J. R., Liu, C., Neilson, R. P., Hansen, L. and Hannah, L. E. E. (2006) Global warming and extinctions of endemic species from biodiversity hotspots. *Conserv. Biol.* 20: 538–548.
- Mason, D. (1996) Responses of Venezuelan understory birds to selective logging, enrichment strips, and vine cutting. *Biotropica* 28: 296–309.
- McCain, C. M. (2007) Could temperature and water availability drive elevational species richness patterns? A global case study for bats. *Global Ecol. Biogeogr.* 16: 1–13.
- McCain, C. M. (2009) Global analysis of bird elevational diversity. *Global Ecol. Biogeogr.* 18: 346–360.
- McNeilage, A. (2001) Diet and habitat use of two mountain gorilla groups in contrasting habitats in the Virungas. Pp 265–292 in M. M. Robbins, P. Sicotte and K. J. Stewart, eds. *Mountain gorillas: three decades of research at Karisoke*. Cambridge, UK: Cambridge University Press.
- Michel, N. L., Robinson, W. D. and Sherry, T. W. (2015) Liana – bird relationships: A review. Pp. 362–397 in S. Schnitzer, F. Bongers, R. Burnham and F. Putz, eds. *Ecology of lianas*. Hoboken, NJ: Wiley-Blackwell Publishing.
- Milner, J. M. and Harris, S. (1999) Habitat use and ranging behaviour of tree hyrax, *Dendrohyrax arboreus*, in the Virunga Volcanoes, Rwanda. *Afr. J. Ecol.* 37: 281–294.
- Murererehe, S. (2000) *Collecte et analyse de données pour l'aménagement durable des forêts -joindre les efforts nationaux*

- et internationaux; *Etat des ressources forestières au Rwanda*. Technical Report. Rome: FAO.
- Nakagawa, S. and Schielzeth, H. (2013) A general and simple method for obtaining R^2 from generalized linear mixed-effects models. *Methods Ecol. Evol.* 4: 133–142.
- Newton, I. (1994) The role of nest sites in limiting the numbers of hole-nesting birds: a review. *Biol. Conserv.* 70: 265–276.
- Newton, I. (1998) *Population limitation in birds*. San Diego, California: Academic Press.
- Niemelä, T., Renvall, P. and Hjortstam, K. (1998) *Hagenia abyssinica* and its fungal decayers in natural stands. *Edinburgh J. Bot.* 55: 473–484.
- Nobis, M. and Hunziker, U. (2005) Automatic thresholding for hemispherical canopy-photographs based on edge detection. *Agricult. For. Meteorol.* 128: 243–250.
- Nsanzurwimo, A. (2004) *Etude analytique des communautés de Bamboo à Sinarundinaria alpina en rapport avec leur milieu écologique (cas du Parc National des Volcans)*. Mémoire, Butare, Université National du Rwanda.
- Ohlemüller, R., Anderson, B. J., Araújo, M. B., Butchart, S. H., Kudrna, O., Ridgely, R. S. and Thomas, C. D. (2008) The coincidence of climatic and species rarity: high risk to small-range species from climate change. *Biol. Lett.* 4: 568–572.
- Olson, D. M. and Dinerstein, E. (1998) The global 200: a representation approach to conserving the earth's most biologically valuable ecoregions. *Conserv. Biol.* 12: 502–515.
- Owiunji, I., Nkuutu, D., Kujirakwinja, D., Liengola, I., Plumptre, A., Nsanzurwimo, A., Fawcett, K., Gray, M. and McNeilage, A. (2005) *The biodiversity of the Virunga Volcanoes*. Technical Report www.wcs.org/Albertine_Rift.
- Öztürk, M., Hakeem, K. R., Faridah-Hanum, I. and Efe, R., eds. (2015) *Climate change impacts on high-altitude ecosystems*. Springer.
- Peres, C. A. (1999) Tropical forest disturbance and dynamics in Southeast Asia. *Trends Ecol. Evol.* 14: 217–218.
- Pickford, M. (1990) Uplift of the roof of Africa and its bearing on the evolution of mankind. *Human Evol.* 5: 1–20.
- Picton Phillipps, G. and Seimon, A. (2010) Potential climate change impacts in conservation landscapes of the Albertine Rift. Wildlife Conservation Society Albertine Rift Climate Assessment. White Paper Report, (2).
- Plumptre, A. J. (1991) Plant-herbivore dynamics in the Birungas. Ph.D. thesis. University of Bristol, UK.
- Plumptre, A. J. (1993) The effects of trampling damage by herbivores on the vegetation of the Parc National des Volcans, Rwanda. *Afr. J. Ecol.* 32: 115–129.
- Plumptre, A. J., Masozera, M. and Vedder, A. (2001) *The impact of civil war on the conservation of protected areas in Rwanda*. Washington, DC: Biodiversity Support Program.
- Plumptre, A. J., Behangana, M., Davenport, T. R. B., Kahindo, C., Kityo, R., Ndomba, E., Nkuutu, D., Owiunji, I., Ssegawa, P. and Eilu, G. (2003) *The biodiversity of the Albertine Rift*. Albertine Rift Technical Report N-3 www.wcs.org/Albertine_Rift
- Putz, F. E., Sirot, L. K. and Pinard, M. A. (2001) Tropical forest management and wildlife: silvicultural effects on forest structure, fruit production, and locomotion of arboreal animals. Pp. 11–34 in R. A. Fimbel, A. Grajal and G. Robinson, eds. *The cutting edge: conserving wildlife in logged tropical forests*. New York, USA: Columbia University Press.
- R Core Team (2017) *R: A language and environment for statistical computing*. Vienna, Austria: R Foundation for Statistical Computing.
- Rahbek, C. (1995) The elevational gradient of species richness – a uniform pattern. *Ecography* 18: 200–205.
- Rahbek, C. (1997) The relationship among area, elevation and regional species richness in Neotropical birds. *Am. Nat.* 149: 875–902.
- Ramsar (2002) *Resolution VIII.3 on climate change and wetlands*. Gland, Switzerland: Ramsar Convention Secretariat. Accessed on 25 February 2008 at http://www.ramsar.org/res/key_res_viii_03_e.html
- Robbins, M. M., Gray, M., Fawcett, K. A., Nutter, F., Uwingeli, P., Mburanumwe, I., Kagoda, E., Basabose, A., Stoinski, T. S., Cranfield, M. R., Byamukama, J., Spelman, L. H. and Robbins, A. M. (2011) Extreme conservation leads to recovery of the Virunga mountain gorillas. *PLoS ONE* 6: e19788.

- Robbins, C. S., Sauer, J. R., Greenberg, R. S. and Droege, S. (1989) Population declines in North American birds that migrate to the Neotropics. *Proc. Natl. Acad. Sci.* 86: 7658–7662.
- Rosenzweig, M. L. (1995) *Species diversity in space and time*. Cambridge: Cambridge University Press.
- Rowe, R. (2009) Environmental and geometric drivers of small mammal diversity along elevational gradients in Utah. *Ecography* 32: 411–422.
- Runyambo, I. (2006) *Contribution à l'étude de la structure et de la dynamique de la végétation du marais du lac Ngezi au Parc national des Volcans*. Memoir. Butare: National University of Rwanda.
- Runyambo, I. (2009) Recent changes in vegetation structure of Ngezi swamp in the face of climate change impact: Case of Volcanoes Biosphere Reserve, Rwanda. Association pour la Conservation de la Nature au Rwanda (ACNR). A Report for MacArthur Foundation.
- Samuelsson, J., Gustafsson, L. and Ingelög, T. (1994) *Dying and dead trees. A review of their importance for biodiversity*.
- Sanders, N. J. and Rahbek, C. (2012) The patterns and causes of elevational diversity gradients. *Ecography* 35: 1–3.
- Sarmiento, E. E., Butynski, T. M and Kalina, J. (1996) Gorillas of Bwindi impenetrable forest and the Virunga volcanoes: Taxonomic implications of morphological and ecological differences. *Am. J. Primatol.* 40: 1–21.
- Schnitzer, S. A. and Bongers, F. (2002) The ecology of lianas and their role in forests. *Trends Ecol. Evol.* 17: 223–230.
- Seburanga, J. L., Nsanzurwimo, A. and Folega, F. (2014) Status of Hagenia forest in the Parc National des Volcans, Rwanda: a review of historical records. *J. Ecol. Natur. Environ.* 6: 170–182.
- Sekercioglu, C. H., Schneider, S. H., Fay, J. P. and Loarie, S. R. (2008) Climate change, elevational range shifts, and bird extinctions. *Conserv. Biol.* 22: 140–150.
- Shoo, L. P., Williams, S. E. and Hero, J. M. (2005) Climate warming and the rainforest birds of the Australian Wet Tropics: Using abundance data as a sensitive predictor of change in total population size. *Biol. Conserv.* 125: 335–343.
- Stattersfield, A. J., Crosby, M. J., Long, A. J. and Wege, D. C. (1998) *Endemic Bird Areas of the World: priorities for biodiversity conservation*. Cambridge, UK: BirdLife International. (BirdLife International Conservation series No. 7).
- Stotz, D. F., Fitzpatrick, J. W., Parker, T. A. and Moskovits, D. K. (1996) *Neotropical birds. Ecology and conservation*. Chicago: University Chicago Press.
- Sutherland, W. J. ed. (2006) *Ecological census techniques: a handbook*. Cambridge, UK: Cambridge University Press.
- Thiollay, J. M. (1992) Influence of selective logging on bird species-diversity in a Guianan rain-forest. *Conserv. Biol.* 6: 47–63.
- Troupin, G. (1982) *Flore des plantes ligneuses du Rwanda: Hagenia abyssinica* (Bruce) J. F. Gmelin. Butare, Rwanda: Institut National de Recherche Scientifique
- Wang, X. P. *et al.* (2009) Relative importance of climate vs local factors in shaping the regional patterns of forest plant richness across north-east China. *Ecography* 32: 133–142.
- Watts, D. P. (1983) Foraging strategy and socioecology of mountain gorillas (*Pan gorilla beringei*). Ph.D. thesis. Chicago: University of Chicago.
- Watts, D. P. (1998) Long-term habitat use by Mountain Gorillas (*Gorilla gorilla beringei*). 2. Reuse of foraging areas in relation to resource abundance, quality, and depletion. *Internatn. J. Primatol.* 19: 7002.
- Weber, A. W. (1987) *Ruhengeri and its resources: an environmental profile of the Ruhengeri Prefecture*. Kigali: ETMA/USAID.
- Williams, J. W., Jackson, S. T. and Kutzbach, J. E. (2007) Projected distributions of novel and disappearing climates by 2100 AD. *Proc. Natl. Acad. Sci.* 104: 5738–5742.
- Wong, M. (1985) Understorey birds as indicators of regeneration in a patch of selectively logged West Malavsian rain forest. In A. W. Diamond and T. Lovejoy, eds. *Conservation of tropical forest birds*. Cambridge, UK: International Council for Bird Preservation. (Technical Publication No. 4).
- Zedler, J. B. and Kercher, S. (2005) Wetland resources: status, trends, ecosystem services, and restorability. *Annu. Rev. Environ. Resour.* 30: 39–74.

- Zuur, A. F., Ieno, E., Walker, N., Saveliev, A. and Smith, G. (2009) *Mixed effects models and extensions in ecology with R*. New York: Springer Science and Business Media.
- Zuur, A. F., Ieno, E. N., Elphick and, C. S. (2010) A protocol for data exploration to avoid common statistical problems. *Methods Ecol. Evol.* 1: 3–14.

MIA A. DERHÉ*¹, DEO TUYISINGIZE, WINNIE ECKARDT, FAIDA EMMANUEL,
TARA STOINSKI²

Karisoke Research Center, The Dian Fossey Gorilla Fund International, PO Box 105, Musanze, Rwanda.

¹*Present address: Karisoke Research Centre, The Dian Fossey Gorilla Fund International, NR 4 RD 58, B.P. 105 Ruhengeri/Musanze, Rwanda.*

²*and The Dian Fossey Gorilla Fund International, 800 Cherokee Ave SE, Atlanta, GA 30315, USA.*

**Author for correspondence; e-mail: mia.derhe@gmail.com*

Received 20 March 2018; revision accepted 3 March 2019;
Published online 16 May 2019